Select date range

STATION OPERATIONS COMMAND

Total Active Stations

2,220

Stations Needing Rebalancing

4

Average Bikes Available

5

Top 10 Busiest Stations

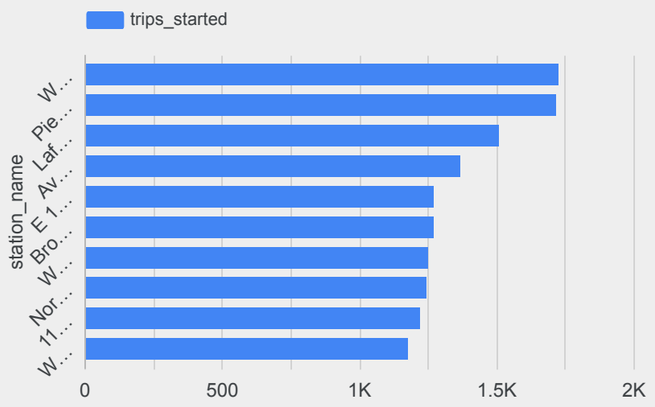

Station Activity Map

trips_started 0 1,725

7-Day Availability Trend

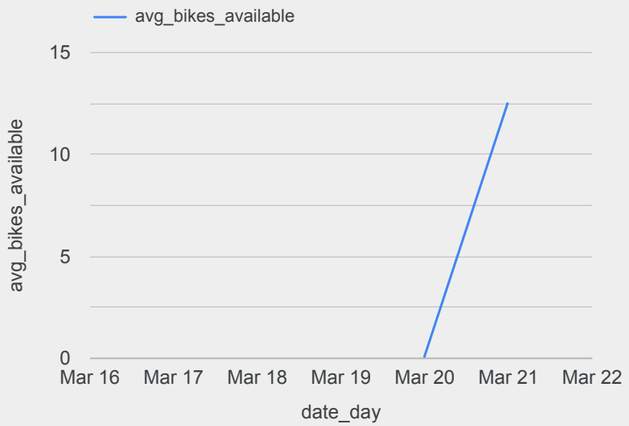

System Utilization

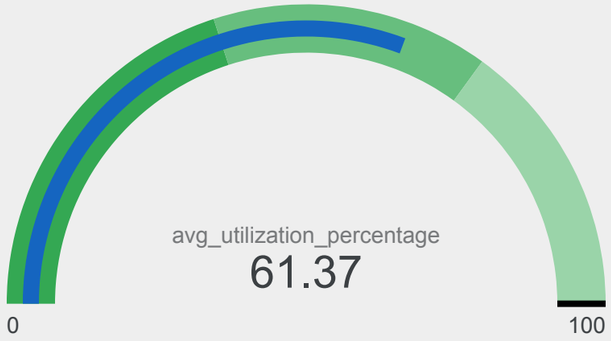

Stations Requiring Attention

	station_name	avg_bikes_available	operational_health_score	priority_indicator
1.	Unknown Station	0	0	High Priority
2.	Unknown Station	13	100	Medium Priority
3.	Unknown Station	13	100	Medium Priority

1 - 3 / 3

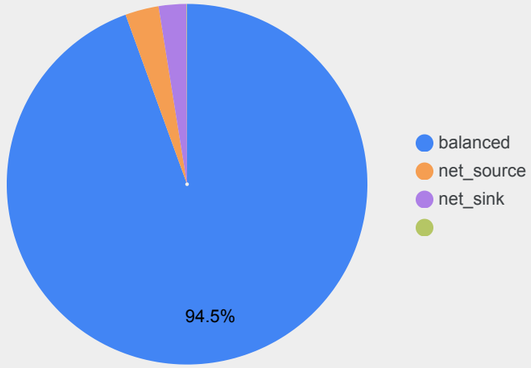

Select date range

TRIP ANALYTICS - DAILY PATTERNS

is_weekend

user_type_name

Total Trips	Average Duration	Member Percentage	Electric Bike Usage
3,035,835	25	50	50

Trips by Hour of Day

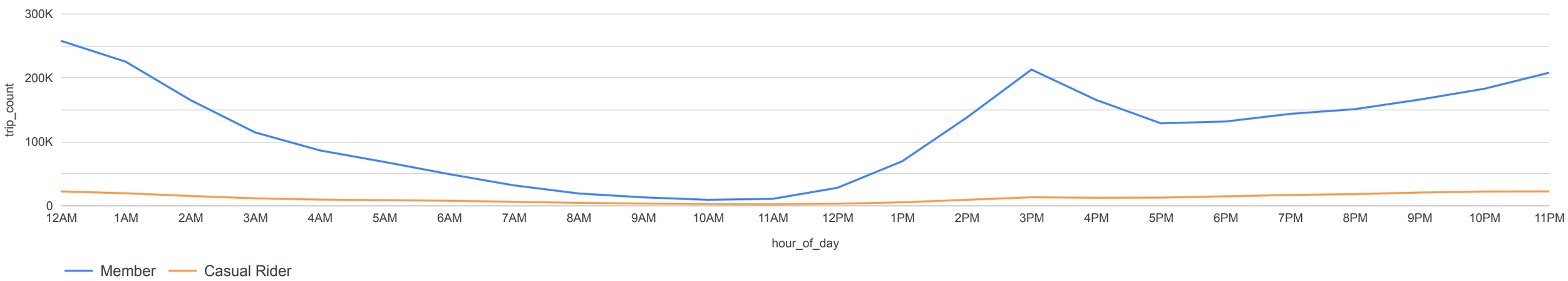

Trips by User Type

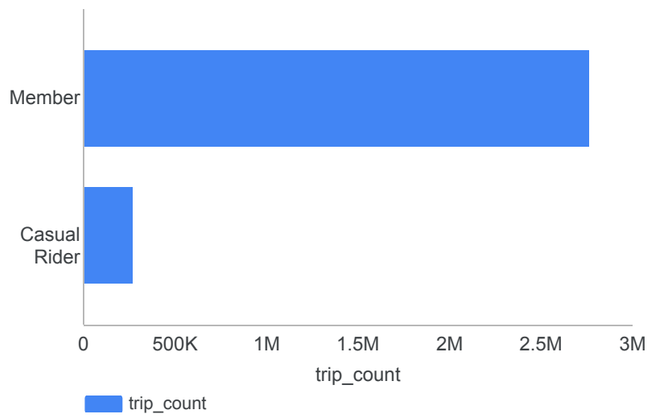

Trips by Bike Type

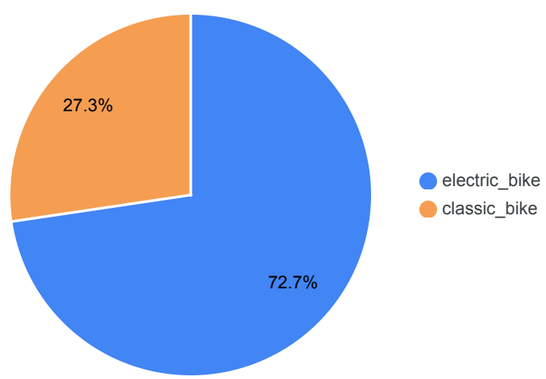

Trips by Time of Day

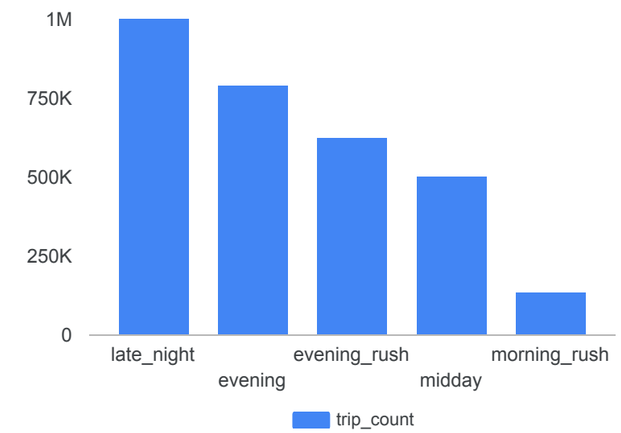

Hourly Breakdown Table

	date_day	hour_of_day	time_of_day_name	user_type_name	rideable_type	trip_count	avg_trip_duration	member_pct	electric_bike_pct
1.	Mar 1, 2026	6AM	morning_rush	Member	classic_bike	295	7.83	100	0
2.	Mar 1, 2026	4AM	late_night	Casual Rider	classic_bike	59	20.22	0	0
3.	Mar 1, 2026	2AM	late_night	Member	classic_bike	786	10.51	100	0
4.	Mar 1, 2026	12AM	late_night	Casual Rider	classic_bike	217	19.6	0	0
5.	Mar 1, 2026	5AM	late_night	Member	classic_bike	374	10.82	100	0
6.	Mar 1, 2026	12AM	late_night	Casual Rider	electric_bike	856	20.86	0	100
7.	Mar 1, 2026	4AM	late_night	Casual Rider	electric_bike	293	15.11	0	100

Select date range

trip_count

POPULAR ROUTES & STATIONS

route_popularity_category

user_type_name

Total Routes

54

Average Trips per Route

2

Most Popular Route

Route	trip_count
55 Ave & Center Blvd → Vernon Blvd & 50 Ave	123

Top 20 Routes

start_station_name	end_station_name	route_popularity_category	trip_count	avg_duration_minutes	member_pct	electric_pct
55 Ave & Center Blvd	Vernon Blvd & 50 Ave	Low				
Vernon Blvd & 50 Ave	55 Ave & Center Blvd	Low				
Franklin St & Dupont St	Jackson Ave & 49 Ave	Low				
Jackson Ave & 49 Ave	Franklin St & Dupont St	Low				
Norfolk St & Broome St	Henry St & Grand St	Low				
Henry St & Grand St	Norfolk St & Broome St	Low				
Clinton St & Grand St	Henry St & Grand St	Low				
N 6 St & Bedford Ave	S 4 St & Wythe Ave	Low				
S 4 St & Wythe Ave	N 6 St & Bedford Ave	Low				
Eagle St & Manhattan Ave	Jackson Ave & 49 Ave	Low				
Ave A & E 14 St	E 7 St & Ave C	Low				
Ash St & Manhattan Ave	Jackson Ave & 49 Ave	Low				
46 Ave & 5 St	Vernon Blvd & 50 Ave	Low				
W 21 St & 6 Ave	9 Ave & W 22 St	Low				
Henry St & Grand St	Clinton St & Grand St	Low				
Henry St & Grand St	Canal St & Rutgers St	Low				
W 16 St & The High Line	8 Ave & W 16 St	Low				
Amsterdam Ave & W 73 St	Amsterdam Ave & W 79 St	Low				
45 Ave & 21 St	46 Ave & 5 St	Low				
Jackson Ave & 49 Ave	Eagle St & Manhattan Ave	Low				

Top Start Stations

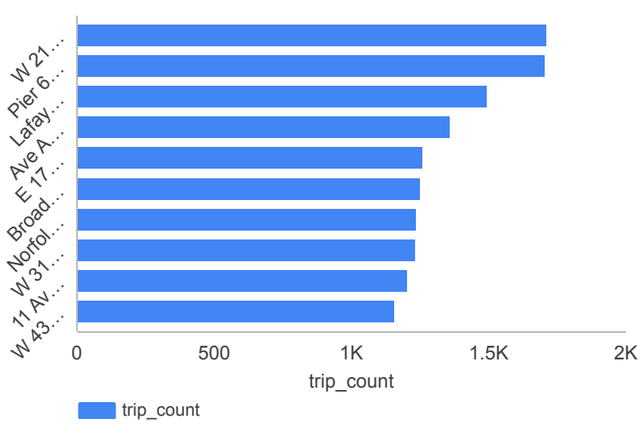

Start Station Map

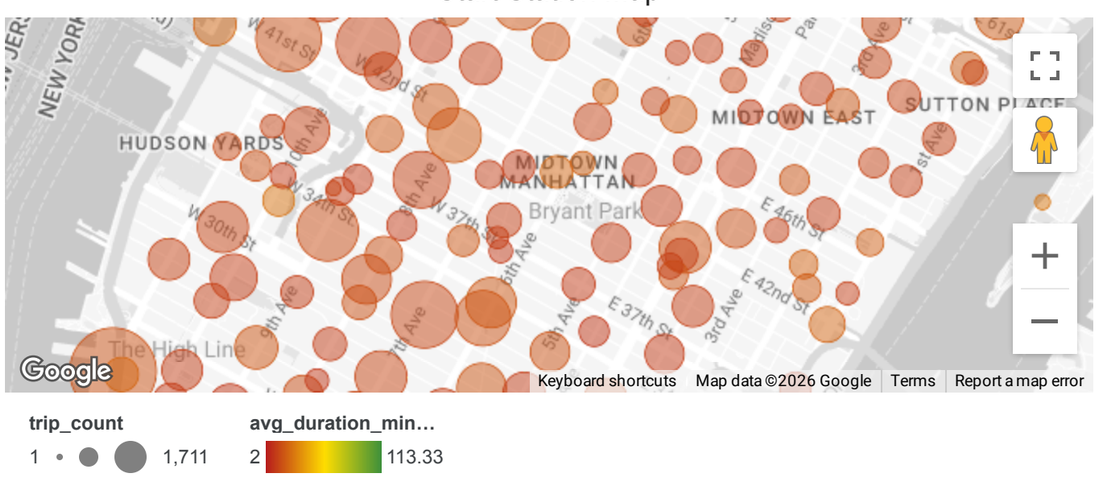

Top End Stations

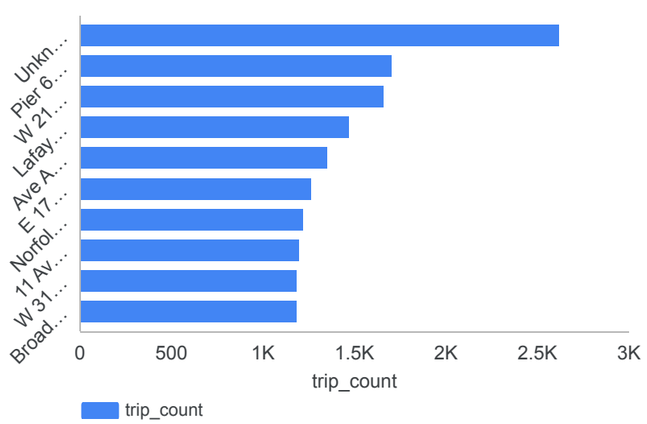

Select date range

is_weekend

WEATHER IMPACT ON RIDERSHIP

weather_category

temperature_celsius

-10 40

Average Daily Trips	Ideal Weather Days	Poor Weather Days	Average Temperature
45,274	0	1	4

Temperature vs Trips

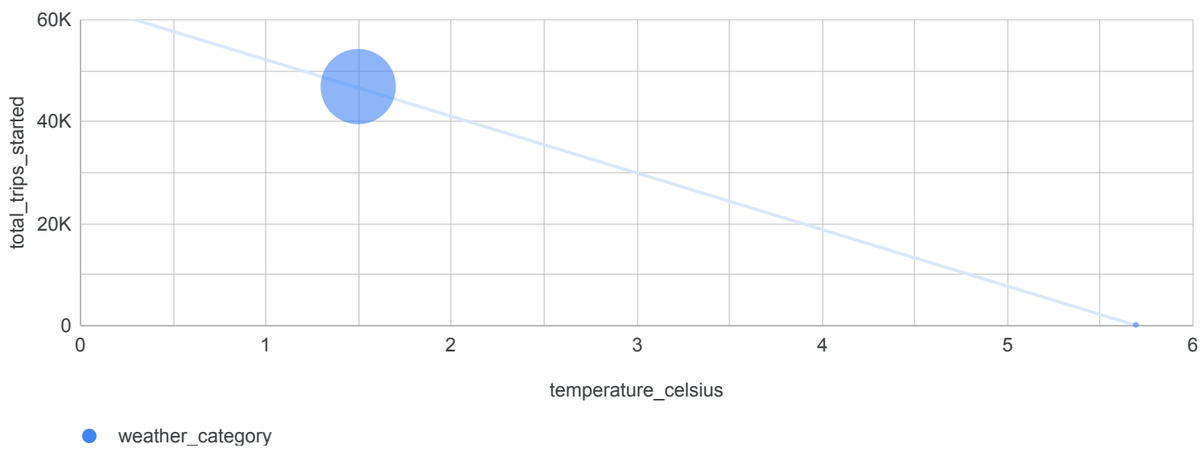

Daily Trips with Weather Overlay

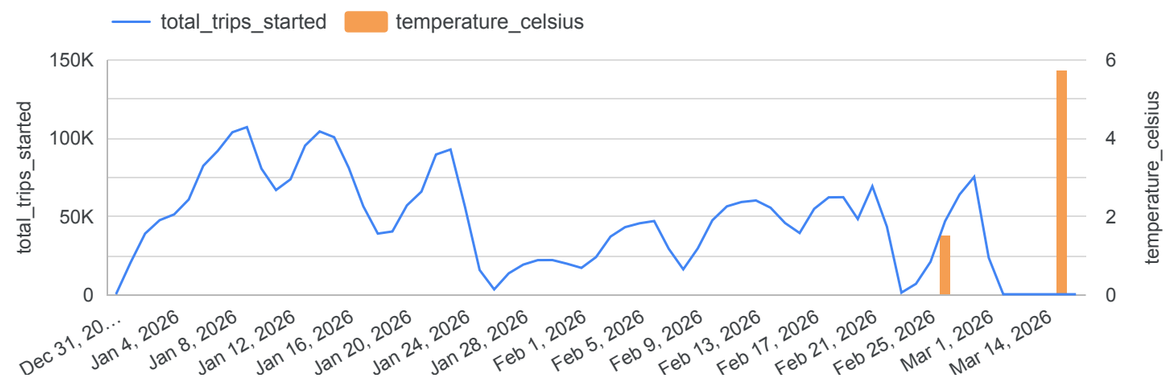

Trips by Weather Condition

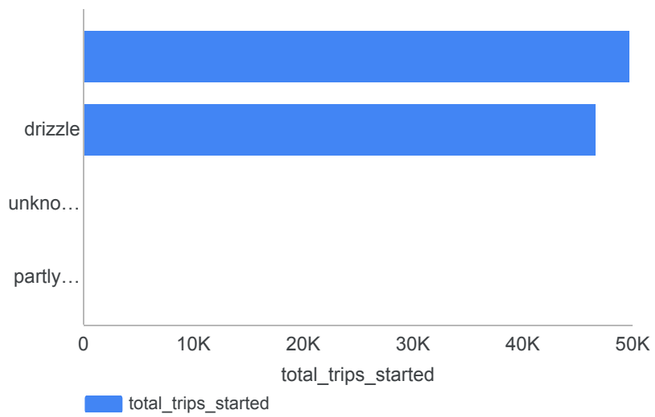

Trips by Temperature Category

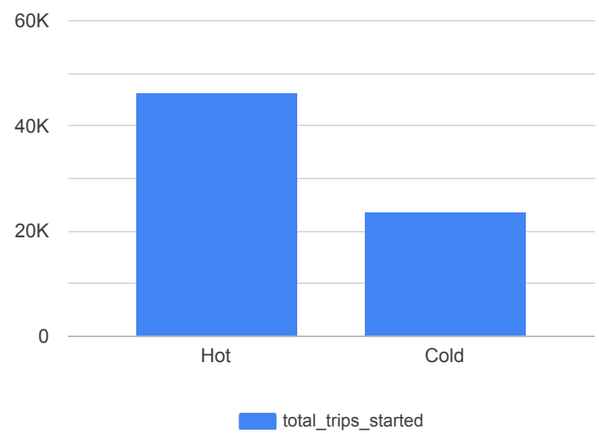

Weather Category Distribution

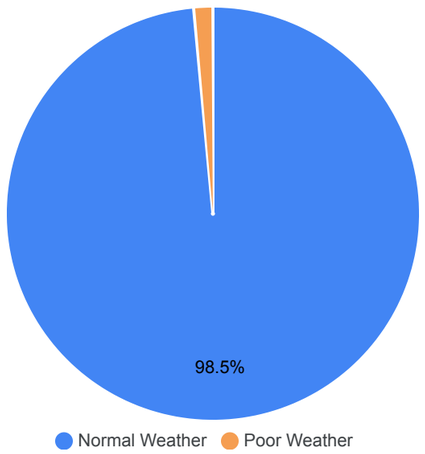

Daily Trips with Weather Overlay

date_day	day_name	weather_condition	temperature_category	precipitation_category	total_trips_started	temperature_celsius	precipitation_mm	wind_speed_kmh	avg_trip_duration
Mar 21, 2026	Saturday	unknown	Hot	Heavy Rain	0	null	null	null	null
Mar 20, 2026	Friday	partly_cloudy	Cold	No Rain	0	5.7	0	17.7	null
Mar 14, 2026	Saturday	unknown	Hot	Heavy Rain	0	null	null	null	null
Mar 13, 2026	Friday	unknown	Hot	Heavy Rain	0	null	null	null	null
Mar 4, 2026	Wednesday	unknown	Hot	Heavy Rain	0	null	null	null	null
Mar 3, 2026	Tuesday	unknown	Hot	Heavy Rain	0	null	null	null	null
Mar 1, 2026	Sunday	null	Hot	Heavy Rain	23,370	null	null	null	13.08